A Project report

On

Automated Glacial Lake Mapping Tool

for Indian Himalayan Region

submitted in partial fulfillment for the award of the degree

Bachelor of Technology

By

MITALI THAPA

22CS002602

Submitted to

Under the Supervision of

Mr. Adnan Pipawala

Assistant Professor

Faculty of Computing and Informatics,

Sir Padampat Singhania University,

Udaipur, 313601, Rajasthan, India

DECLARATION

I Mitali Thapa, student of B.Tech.(CSE), hereby declare that the project report titled "Automated Glacial Lake Mapping Tool for Indian Himalayan Region" which is submitted by me to the department of Faculty of Computing and Informatics, Sir Padampat Singhania University, Udaipur, Rajasthan submitted towards the partial fulfillment of the requirement for the award of the degree of Bachelor of Technology, has not been previously formed the basis for the award of any degree, diploma or other similar title or recognition.

Name and signature of Student: Mitali Thapa

Place: Udaipur, Rajasthan

Date: 16th Apr, 2026

CERTIFICATE

This is to certify that the project entitled 'Automated Glacial Lake Mapping Tool for Indian Himalayan Region' being submitted by Mitali Thapa, submitted towards the partial fulfillment of the requirement for the award of the degree of Bachelor of Technology, has been carried out under my supervision and guidance.

The matter embodied in this report has not been submitted, in part or in full, to any other university or institute for the award of any degree, diploma or certificate.

Mr. Adnan Pipawala
Assistant Professor
Faculty of Computing and Informatics
Sir Padampat Singhania University
Udaipur, 313601
Rajasthan, India

Dr. Amit Kumar Goel
Professor and Dean
Faculty of Computing and Informatics
Sir Padampat Singhania University
Udaipur, 313601
Rajasthan, India

ACKNOWLEDGEMENT

I would like to express my sincere gratitude to my project guide Mr. Adnan Pipawala for giving me the opportunity to work on this topic.

It would never be possible for us to take this project to this level without his innovative ideas and his relentless support and encouragement.

Mitali Thapa

22CS002602

ABSTRACT

Glacial lakes are critical indicators of climate change and play a significant role in high mountain hydrology, while also posing hazards in the form of Glacial Lake Outburst Floods (GLOFs). Rapid glacier retreat due to global warming has increased the number and size of these lakes, making their monitoring essential for disaster risk reduction. Traditional mapping methods based on manual interpretation of satellite imagery are time-consuming and often inconsistent over large and remote regions, creating a need for automated and scalable approaches.

This project presents a hybrid methodology for automated glacial lake mapping using multi-spectral satellite imagery, integrating remote sensing techniques with machine learning and deep learning models. The approach utilizes Sentinel-2 and Landsat imagery along with spectral indices such as NDWI and MNDWI to enhance water body detection. Additional preprocessing steps, including cloud masking and topographic feature integration, are applied to address challenges like shadows, snow, and turbidity.

A dual-model framework combining a Random Forest classifier and a U-Net convolutional neural network is implemented for accurate classification and boundary delineation. Topographic features such as elevation and slope help reduce false positives, while class balancing techniques improve performance in highly imbalanced datasets.

The system is deployed on Google Earth Engine for large-scale processing and spatio-temporal monitoring. It enables continuous tracking of lake expansion and supports early warning mechanisms by detecting rapid changes in lake area. Results demonstrate improved accuracy, efficiency, and robustness compared to conventional methods.

Overall, this study provides a scalable and efficient framework for automated glacial lake mapping, supporting hazard assessment, climate change analysis, and sustainable water resource management.

Contents

LIST OF FIGURES vi

LIST OF TABLES vii

LIST OF ABREVIATIONS viii

CHAPTER 1 1

INTRODUCTION 1

1.1 Background 1

1.1.1 Types of Glacial Lakes 1

1.1.2 Challenges in Monitoring Glacial Lakes 2

1.1.3 Importance of Remote Sensing 3

1.2 Problem Statement 4

1.2.1 Key Challenges in Glacial Lake Mapping 4

1.2.2 Need for an Improved Approach 5

1.3 Objectives 6

1.3.1 General Objectives 6

1.3.2 Specific Objectives 7

1.4 Scope of Work 9

1.4.1 Study Domain 9

1.4.2 Data Scope 9

1.4.3 Methodological Scope 10

1.4.4 Functional Scope 10

1.4.5 Limitations of the Study 11

Chapter 2 12

LITERATURE SURVEY 12

2.1 Overview of Glacial Lake Mapping 12

2.1.1 Evolution of Glacial Lake Mapping Techniques 12

2.2 Traditional Remote Sensing Methods 13

2.2.1 Manual Digitization 13

2.2.2 Spectral Index-Based Methods 14

2.2.3 Threshold-Based Classification 15
2.2.4 Object-Based Image Analysis (OBIA) 15
2.3 Machine Learning Approaches for Glacial Lake Mapping 16
2.3.1 Overview of Machine Learning in Remote Sensing 17
2.3.2 Random Forest Classifier 17
2.3.3 Support Vector Machines (SVMs) 18
2.3.4 Challenges in Machine Learning Approaches 19
2.4 Deep Learning Techniques for Glacial Lake Mapping 19
2.4.1 Convolutional Neural Networks (CNNs) 20
2.4.2 U-Net Architecture for Segmentation 20
2.4.3 Advantages of Deep Learning Methods 21
2.5 Research Gaps Identified 22
2.6 Scope for Future Research 25
Chapter 3 28
METHODOLOGY 28
3.1 Study Area 28
3.1.1 Geographic Location 28
3.1.2 Climatic and Environmental Characteristics 29
3.1.3 Types of Glacial Lakes in the Study Area 30
3.2 Data Sources 31
3.2.1 Optical Satellite Data (Sentinel – 2) 31
3.2.2 Topographic Data (ALOS DEM) 31
3.2.3 Training Data (GEE-Based Manual Shapefiles) 32
3.2.4 Handling Class Imbalance (Augmented Lake Pixels) 33
3.2.5 Multi-Source Data Integration 33
3.3 Challenges in Automated Glacial Lake Mapping 34
3.3.1 Spectral Confusion and Environmental Interference 34
3.3.2 Influence of Topography and Terrain Complexity 34
3.3.3 Cloud Cover and Atmospheric Effects 35

3.3.4 Limitations of Traditional Approach 35
3.3.5 Segmentation and Classification Challenges 35
3.3.6 Class Imbalance and Small Target Detection 35
3.3.7 Generalization and Transferability Issues 36
3.3.8 Computational Data Constraints 36
3.4 Feature Engineering and Multi-Modal Data Fusion 37
3.4.1 Spectral Feature Extraction 37
3.4.2 Spectral Indices for Water Detection 37
3.4.3 Topographic Feature Extraction 38
3.4.4 Multi-Modal Feature Fusion 39
3.5 Hybrid Sampling and Class Imbalance Handling 40
3.5.1 Problem of Class Imbalance in Remote Sensing 40
3.5.2 Hybrid Sampling Strategy 41
3.5.3 Combined Hybrid Sampling Workflow 42
3.5.4 Integration with Model Training 42
3.5.5 Advantages of Hybrid Approach 43
3.6 Deep Learning and Machine Learning Model Architecture 44
3.6.1 Rationale for Hybrid Model Design 44
3.6.2 Random Forest Classifier (Pixel-Based Learning) 44
3.6.3 U-Net Convolutional Neural Network (Semantic Segmentation) 45
3.6.4 Integration of RF and U-Net 46
3.6.5 Performance Advantages of Hybrid Architecture 47
3.7 Cloud-Based Spatio-Temporal Monitoring and GEE Deployment 48
3.7.1 Role of Google Earth Engine in the Study 48
3.7.2 Preprocessing and Cloud Masking 48
3.7.3 Temporal Analysis and Change Detection 49
3.7.4 Early Warning Mechanism for GLOF 49
3.7.5 Integration with Interactive GEE Application 50
3.8 Accuracy Assessment and Validation 51

3.8.1 Reference Data Preparation 51
3.8.2 Validation Approach 51
3.8.3 Error Analysis 52
3.9 Results and Analysis 52
3.9.1 Spatial Distribution of Glacial Lakes 52
3.9.2 Impact of Feature Fusion 53
Chapter 4 55
CONCLUSION 55
Future Scope 55
REFERENCES 56

LIST OF FIGURES

Figure No.	Description	Page No.
Chapter 1		
1.1	Formation of Glacial Lakes	2
1.2	Landsat and Sentinel-derived glacial lake dataset in the China-Pakistan Economic Corridor from 1999 to 2020	3
1.3	Common challenges in glacial lake detection including shadows, snow, turbidity, and cloud cover.	5
1.4	Overall workflow representing data acquisition, processing, modeling, and monitoring objectives.	8
1.5	Representative satellite imagery of glacial lake regions in the Himalayas	10
Chapter 2		
2.1	Illustration of water extraction using NDWI and MNDWI from satellite imagery.	15
2.2	Working of Random Forest Classifier	18
2.3	Deep learning glacial lake segmentation workflow	22
Chapter 3		
3.1	Glacial Lakes in the Indian Himalayan Region	29
3.2	Sentinel-2 imagery and spectral band combinations used for glacial lake detection.	32
3.3	Spectral behavior of water, snow, and terrain using Sentinel-2 bands and indices.	38
3.4	Multi-modal feature fusion workflow integrating spectral and topographic data.	39

LIST OF TABLES

Table No.	Description	Page No
Chapter 1		
1.1	Comparison of Glacial Lake Mapping Approaches	3
1.2	Limitations of Existing Method	5
1.3	Mapping Objectives to Methodology	8
Chapter 2		
2.1	Comparison of Traditional Remote Sensing Methods	16
2.2	Comparison of Machine Learning Approach	19
2.3	Comparisong of Deep Learning Models	22
Chapter 3		
3.1	Characteristics of the Study Area	30
3.2	Feature Set used in the Study	40
3.3	Stratified Downsampling of Majority Classes	41
3.4	Final Training dataset	42
3.5	Comparison with Traditional Sampling	44

LIST OF ABREVIATIONS

ABBREVIATION	DESCRIPTION
NDWI	Normalized Difference Water Index
MNDWI	Modified Normalized Difference Water Index
GLOF	Glacial Lake Outburst Flood
DEM	Digital Elevation Model
GEE	Google Earth Engine
RF	Random Forest
SVM	Support Vector Machine
CNN	Convolutional Neural Network
U-Net	U-Net Neural Network Architecture
SAR	Synthetic Aperture Radar
MSI	MultiSpectral Instrument
TPI	Topographic Position Index
IHR	Indian Himalayan Region
SMOTE	Synthetic Minority Over-sampling Technique
NIR	Near-Infrared
SWIR	Shortwave Infrared
OBIA	Object-Based Image Analysis
KNN	K-Nearest Neighbors
DL	Deep Learning

CHAPTER 1

INTRODUCTION

1.1 Background

Glacial lakes are water bodies that form in regions influenced by glacier dynamics, typically located in high mountain environments such as the Himalayas, Andes, and the Tibetan Plateau. These lakes are primarily formed due to glacier retreat, where depressions left behind by melting ice get filled with meltwater. Over the past few decades, global warming has accelerated glacier melting, leading to a rapid increase in both the number and size of glacial lakes.

Glaciers act as sensitive indicators of climate change, and their retreat significantly alters hydrological systems in mountainous regions. As glaciers shrink, meltwater accumulates and forms different types of glacial lakes such as moraine-dammed, ice-dammed, and supraglacial lakes. These lakes play a dual role: they serve as freshwater reservoirs while also posing serious risks in the form of Glacial Lake Outburst Floods (GLOFs), which can cause catastrophic downstream damage.

1.1.1 Types of Glacial Lakes

Glacial lakes can be broadly classified into the following categories:

- **Moraine-dammed lakes**: Formed behind natural dams of glacial debris
- **Ice-dammed lakes**: Created when ice blocks water flow
- **Supraglacial lakes**: Found on glacier surfaces
- **Proglacial lakes**: Located at the glacier terminus

Recent studies show a significant increase in glacial lake extent due to climate change. The number and area of glacial lakes have increased globally over the past few decades, highlighting the urgency of monitoring these dynamic features.



Fig 1.1: Formation of Glacial Lakes

1.1.2 Challenges in Monitoring Glacial Lakes

Monitoring glacial lakes is particularly difficult due to:

- Remote and inaccessible terrain
- Harsh climatic conditions
- Rapid temporal changes in lake size
- Presence of snow, ice, and shadows in satellite imagery
- Similar spectral characteristics between water and surrounding features



Fig 1.2: Landsat and Sentinel-derived glacial lake dataset in the China-Pakistan Economic Corridor from 1999 to 2020

1.1.3 Importance of Remote Sensing

Remote sensing provides an efficient and scalable solution for glacial lake monitoring. Satellite imagery enables large-scale observation and analysis of glacial lakes over time, making it possible to detect changes in lake extent and identify potential hazards.

Key advantages of remote sensing include:

- Coverage of large and inaccessible regions
- Multi-temporal analysis capability
- Cost-effective compared to field surveys
- Availability of multi-spectral data for water detection

Method Type	Description	Advantages	Limitations
Manual Mapping	Visual interpretation of satellite images	High accuracy	Time-consuming, subjective
Spectral Index-Based	NDWI, MNDWI-based thresholding	Simple, fast	Sensitive to shadows and turbidity
Machine Learning	RF, SVM classification	Improved accuracy	Requires training data
Deep Learning	CNN, U-Net segmentation	High precision, automated	Computationally intensive

Table 1.1: Comparison of Glacial Lake Mapping Approaches

Key Observations:

- Glacial lakes are rapidly expanding due to climate change
- Traditional mapping methods are insufficient for large-scale analysis
- Remote sensing combined with advanced models provides a scalable solution

- Accurate monitoring is essential for early warning of GLOF hazards

1.2 Problem Statement

The rapid expansion of glacial lakes in high mountain regions due to accelerated glacier melting has significantly increased the risk of Glacial Lake Outburst Floods (GLOFs). These sudden and catastrophic events can lead to severe loss of life, infrastructure damage, and environmental degradation in downstream areas. Despite their importance, accurate and large-scale monitoring of glacial lakes remains a major challenge.

Traditional approaches for glacial lake mapping rely heavily on manual digitization of satellite imagery. While these methods provide relatively high accuracy, they are time-consuming, labor-intensive, and unsuitable for large-scale or real-time monitoring. Moreover, manual methods introduce subjectivity and inconsistency, especially when applied across diverse geographical regions.

1.2.1 Key Challenges in Glacial Lake Mapping

The problem of automated glacial lake detection is complex due to several environmental and technical factors:

- **Spectral Confusion**: Water bodies often exhibit similar spectral characteristics to shadows, snow, and debris-covered ice
- **Cloud Cover and Atmospheric Disturbance**: Optical satellite images are frequently affected by clouds, reducing data usability
- **Topographic Effects**: Mountain shadows and steep terrain introduce false positives in classification
- **Seasonal Variability**: Frozen lakes and snow cover make consistent detection difficult
- **Small and Turbid Lakes**: Many glacial lakes are small or contain sediments, making them hard to detect

These challenges significantly reduce the effectiveness of conventional spectral index-based methods such as NDWI and MNDWI, which rely on fixed thresholds and often fail in heterogeneous environments.

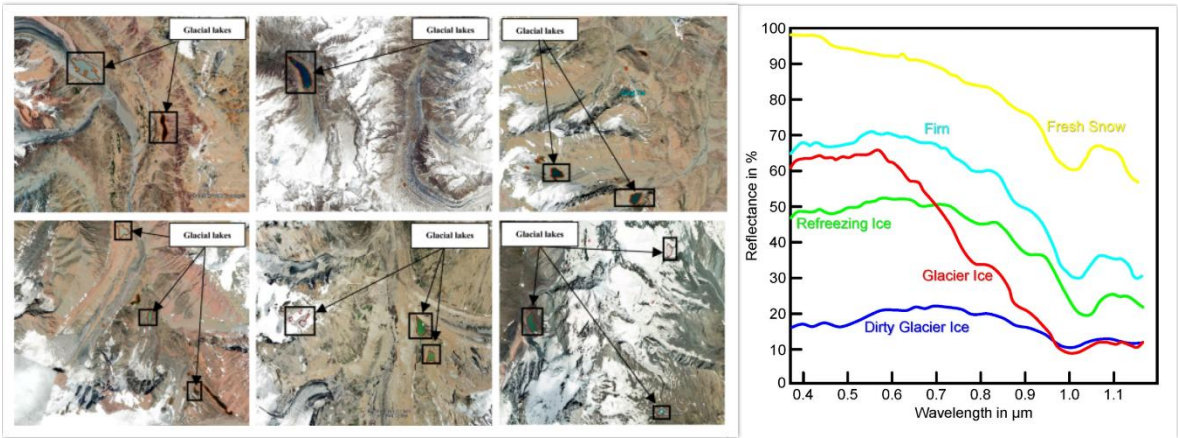

Fig 1.3: Common challenges in glacial lake detection including shadows, snow, turbidity, and cloud cover.

Method Type	Key Issue	Impact on Mapping Accuracy
Manual Mapping	Time-consuming and subjective	Not scalable
NDWI/MNDWI	Fixed threshold sensitivity	Misclassification in shadows
Optical Imagery Only	Affected by clouds and snow	Data gaps and inaccuracies
Machine Learning	Requires large labeled datasets	Limited generalization
Deep Learning	High computational requirements	Resource constraints

Table 1.2: Limitations of Existing Method

1.2.2 Need for an Improved Approach

Existing methods lack robustness when applied to complex high-altitude environments. There is a critical need for:

- **Automated and scalable solutions** for large-area monitoring

- **Robust feature extraction techniques** to handle spectral ambiguity
- **Integration of multi-source data** (spectral + topographic)
- **Hybrid modeling approaches** combining machine learning and deep learning
- **Cloud-based platforms** for efficient processing and temporal analysis

Recent advancements in remote sensing and artificial intelligence provide an opportunity to address these limitations. Machine learning and deep learning models can learn complex patterns from data, improving classification accuracy and reducing manual intervention. Additionally, platforms like Google Earth Engine enable large-scale data processing and continuous monitoring.

Problem Definition

Based on the above challenges, the core problem addressed in this study can be defined as:

"To develop an automated, accurate, and scalable framework for glacial lake detection and monitoring using multi-spectral satellite imagery and advanced machine learning/deep learning techniques, capable of overcoming environmental and spectral challenges in high mountain regions."

1.3 Objectives

The primary aim of this study is to develop an automated, accurate, and scalable framework for mapping and monitoring glacial lakes using remote sensing data and advanced computational techniques. Based on the problem statement, the objectives of this project are categorized into **general and specific objectives**.

1.3.1 General Objectives

The general objective of this study is:

To design and implement an automated system for glacial lake detection and monitoring using multi-spectral satellite imagery integrated with machine learning and deep learning approaches.

1.3.2 Specific Objectives

To achieve the general objective, the following **specific objectives** are defined:

- **To acquire and preprocess multi-spectral satellite data** (Sentinel-2, Landsat) for glacial lake analysis
- **To extract water bodies using spectral indices** such as NDWI and MNDWI
- **To integrate topographic features** (elevation, slope) to reduce misclassification caused by terrain shadows
- **To develop and implement machine learning models** (Random Forest) for large-scale classification
- **To apply deep learning models** (U-Net) for accurate boundary segmentation of glacial lakes
- **To handle class imbalance** using appropriate sampling techniques
- **To perform accuracy assessment and validation** of the proposed models
- **To enable spatio-temporal monitoring** of glacial lakes using cloud-based platforms (Google Earth Engine)
- **To identify changes in lake area** for early detection of potential GLOF risks

Objective No.	Objective Description	Method/Approach Used
1	Data acquisition and preprocessing	Sentinel-2, Landsat, Cloud masking
2	Water body extraction	NDWI, MNDWI
3	Reduction of false positives	DEM-based topographic features
4	Large-scale classification	Random Forest
5	Boundary refinement	U-Net (Deep Learning)

6	Handling class imbalance	Sampling techniques (SMOTE, etc.)
7	Accuracy validation	Confusion matrix, metrics
8	Temporal monitoring	Google Earth Engine
9	Risk identification	Change detection (area analysis)

Table 1.3: Mapping Objectives to Methodology

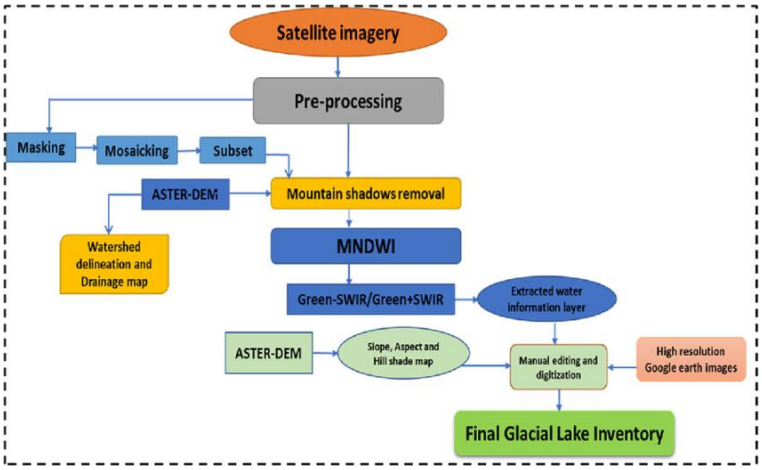

Fig 1.4: Overall workflow representing data acquisition, processing, modeling, and monitoring objectives.

Expected Outcomes

The successful completion of the above objectives is expected to:

- Improve the accuracy of glacial lake detection
- Provide a scalable solution for large-area analysis
- Enable continuous monitoring of glacial lake dynamics
- Support early warning systems for GLOF hazards

1.4 Scope of Work

The scope of this study defines the extent, coverage, and limitations of the proposed glacial lake mapping and monitoring framework. It outlines the geographical, methodological, and technological boundaries within which the project is conducted.

1.4.1 Study Domain

The study focuses on **high mountain regions**, particularly glacierized terrains such as the **Indian Himalayan Region (IHR)**, where glacial lakes are rapidly forming and expanding due to climate change. These regions are characterized by:

- High altitude and rugged terrain
- Presence of snow, ice, and debris-covered glaciers
- Frequent cloud cover and atmospheric disturbances
- Increased vulnerability to GLOF hazards

1.4.2 Data Scope

The project utilizes **multi-source remote sensing data** to ensure reliable detection and monitoring:

- **Optical Satellite Data**:
  - Sentinel-2 (10–20 m resolution)
  - Landsat 8/9 (30 m resolution)
- **Topographic Data**:
  - Digital Elevation Models (DEM) for elevation and slope analysis
- **Derived Features**:
  - Spectral indices (NDWI, MNDWI)
  - Terrain-based parameters (slope, elevation)

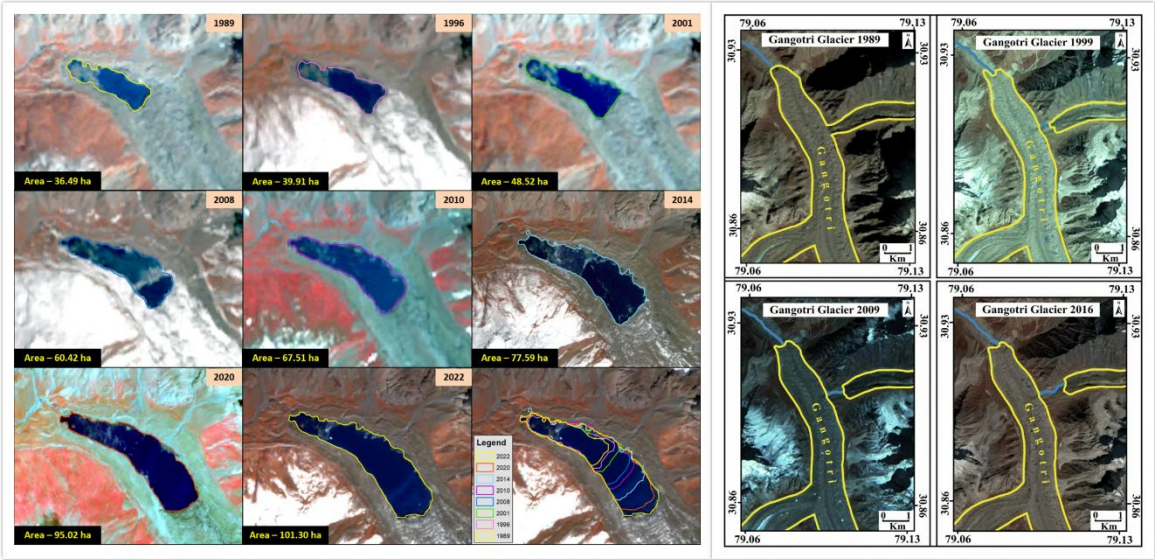

Fig 1.5: Representative satellite imagery of glacial lake regions in the Himalayas

1.4.3 Methodological Scope

The study is limited to **remote sensing-based automated approaches**, including:

- Preprocessing of satellite imagery (cloud masking, filtering)
- Water extraction using spectral indices
- Classification using:
    - Machine Learning (Random Forest)
    - Deep Learning (U-Net segmentation)
- Integration of topographic features for improved accuracy
- Spatio-temporal monitoring using Google Earth Engine

1.4.4 Functional Scope

The system developed in this project is designed to:

- Detect and map glacial lakes automatically

- Delineate lake boundaries with improved precision
- Monitor temporal changes in lake area
- Identify potential expansion trends for hazard assessment

1.4.5 Limitations of the Study

Despite its comprehensive approach, the study has certain limitations:

- Dependence on optical satellite data, which may be affected by cloud cover
- Reduced accuracy in detecting very small or highly turbid lakes
- Computational constraints for deep learning model training
- Limited availability of ground truth data for validation

Chapter 2

LITERATURE SURVEY

2.1 Overview of Glacial Lake Mapping

Glacial lake mapping (GLM) has become an essential area of research due to the increasing impact of climate change on glacier dynamics and associated hazards. Glacial lakes are formed as a result of glacier retreat, and their rapid expansion is closely linked to rising global temperatures. These lakes serve as important indicators of environmental change and play a significant role in hydrological systems, while also posing risks such as Glacial Lake Outburst Floods (GLOFs).

Over the past few decades, advancements in remote sensing technologies have enabled systematic monitoring of glacial lakes across large and inaccessible regions. Satellite imagery from missions such as Landsat and Sentinel has been widely used due to its long-term availability, multi-spectral capability, and global coverage. These datasets allow researchers to analyze temporal changes in lake extent and distribution at regional and global scales. [1]

A global assessment of glacial lakes has shown a substantial increase in their number and area over time. For instance, the number of glacial lakes increased by approximately 53% between 1990 and 2018, highlighting the urgency of developing efficient monitoring techniques. [2]

2.1.1 Evolution of Glacial Lake Mapping Techniques

Glacial lake mapping methods have evolved significantly over time:

1. **Manual Mapping**
   Early studies relied on manual digitization of satellite imagery, which provided high accuracy but lacked scalability.

2. **Spectral Index-Based Methods**
   Techniques such as the Normalized Difference Water Index (NDWI) and Modified NDWI (MNDWI) became popular for automated water detection.

3. **Machine Learning Approaches**
   Algorithms like Random Forest and Support Vector Machines improved classification accuracy by learning patterns from data.
4. **Deep Learning Techniques**
   Recent advancements involve convolutional neural networks (CNNs) for automatic feature extraction and segmentation.

These advancements have progressively improved the accuracy, efficiency, and scalability of glacial lake mapping systems.

2.2 Traditional Remote Sensing Methods

Traditional remote sensing methods form the foundation of glacial lake mapping and have been widely used due to their simplicity and effectiveness. These methods primarily rely on spectral characteristics of water bodies in satellite imagery and include manual digitization, threshold-based techniques, and spectral index-based approaches.

2.2.1 Manual Digitization

Manual digitization involves visual interpretation of satellite images and delineation of lake boundaries by experts. Early glacial lake inventories were developed using this method due to its high accuracy and reliability.

- **Advantages**:
  - High precision in boundary delineation
  - Effective for small study areas
- **Limitations**:
  - Time-consuming and labor-intensive
  - Subjective and prone to human error
  - Not suitable for large-scale applications

Manual mapping has been widely used in early Himalayan glacial lake studies but is not feasible for continuous monitoring. [3]

2.2.2 Spectral Index-Based Methods

Spectral indices are the most commonly used semi-automated techniques for water body extraction. These methods exploit the difference in reflectance properties of water in different spectral bands.

(a) Normalized Difference Water Index (NDWI)

NDWI enhances water features by contrasting green and near-infrared (NIR) bands:

$$NDWI = \frac{Green - NIR}{Green + NIR}$$

Water bodies strongly absorb NIR radiation and reflect green light, making NDWI effective for water detection.

(b) Modified NDWI (MNDWI)

MNDWI improves upon NDWI by replacing NIR with shortwave infrared (SWIR):

$$MNDWI = \frac{Green - SWIR}{Green + SWIR}$$

This helps reduce noise from built-up areas and debris-covered regions.

Limitations of Spectral Index Methods

Despite their simplicity, spectral indices face several challenges:

- Sensitivity to **threshold selection**
- Confusion between **water and shadows**
- Difficulty in detecting **turbid or frozen lakes**
- Influence of **snow and glacier surfaces**

These limitations reduce their effectiveness in complex mountainous environments. [4]

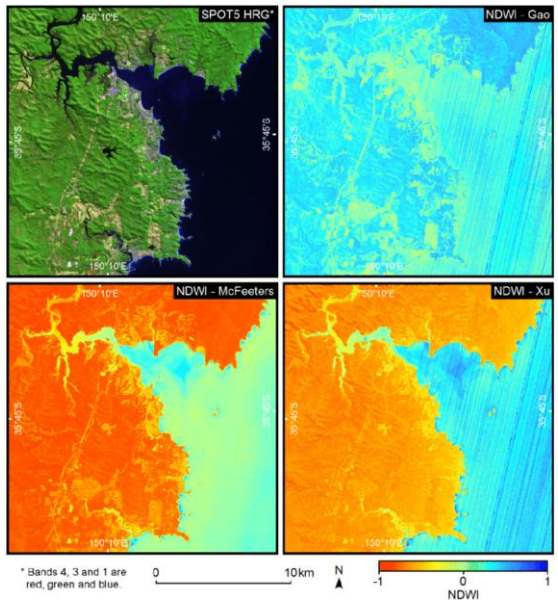

Fig 2.1: Illustration of water extraction using NDWI and MNDWI from satellite imagery.

2.2.3 Threshold-Based Classification

Thresholding methods classify pixels as water or non-water based on predefined index values.

- **Fixed Thresholding**: Uses constant threshold values
- **Dynamic Thresholding (Otsu Method)**: Automatically determines optimal threshold

Thresholding is computationally efficient but often requires manual tuning and may not generalize across different regions. [5]

2.2.4 Object-Based Image Analysis (OBIA)

Object-Based Image Analysis (OBIA) segments images into meaningful objects based on spectral and spatial properties, rather than individual pixels.

- **Advantages**:
    - Reduces salt-and-pepper noise

- Incorporates spatial context

- **Limitations**:
  - Requires parameter tuning
  - Computationally intensive for large datasets

OBIA has shown improved performance compared to pixel-based methods but still requires significant preprocessing. [3]

Method	**Principle**	**Advantages**	**Limitations**
Manual Digitization	Visual interpretation	High accuracy	Time-consuming, subjective
NDWI	Spectral contrast (Green-NIR)	Simple, fast	Sensitive to shadows
MNDWI	Green-SWIR contrast	Better noise reduction	Still affected by snow/ice
Thresholding	Pixel classification	Easy implementation	Requires tuning
OBIA	Object segmentation	Uses spatial context	Complex parameter setting

Table 2.1: Comparison of Traditional Remote Sensing Methods

2.3 Machine Learning Approaches for Glacial Lake Mapping

With the limitations of traditional remote sensing methods, machine learning (ML) techniques have been increasingly adopted for glacial lake mapping. These approaches improve classification accuracy by learning complex patterns from data rather than relying solely on predefined spectral thresholds.

Machine learning models utilize multi-dimensional input features such as spectral bands, indices (NDWI, MNDWI), and topographic parameters (elevation, slope) to distinguish glacial lakes from

surrounding terrain. This makes them more robust in heterogeneous environments like high mountain regions.

2.3.1 Overview of Machine Learning in Remote Sensing

Machine learning algorithms are capable of handling nonlinear relationships and large datasets, making them suitable for land cover classification tasks.

Commonly used ML algorithms include:

- **Random Forest (RF)**
- **Support Vector Machine (SVM)**
- **Decision Trees**
- **K-Nearest Neighbors (KNN)**

These models require **training data (labeled samples)** to learn classification rules and can significantly reduce manual intervention.

2.3.2 Random Forest Classifier

Random Forest is one of the most widely used algorithms for glacial lake mapping. It is an ensemble learning method that combines multiple decision trees to improve prediction accuracy.

- **Key Features**:
    - Handles high-dimensional data
    - Reduces overfitting through ensemble learning
    - Works well with noisy datasets
- **Application in GLM**:
  RF has been successfully used to classify glacial lakes using multi-source data such as Sentinel-1 SAR, Sentinel-2 optical imagery, and DEM features. [4]

2.3.3 Support Vector Machines (SVMs)

SVM is a supervised learning algorithm that separates classes using optimal hyperplanes in feature space.

- **Advantages**:
  - Effective in high-dimensional spaces
  - Works well with limited training data
- **Limitations**:
  - Sensitive to parameter selection
  - Computationally intensive for large datasets

SVM has been applied in water body extraction and has shown improved performance compared to traditional thresholding methods. [5]

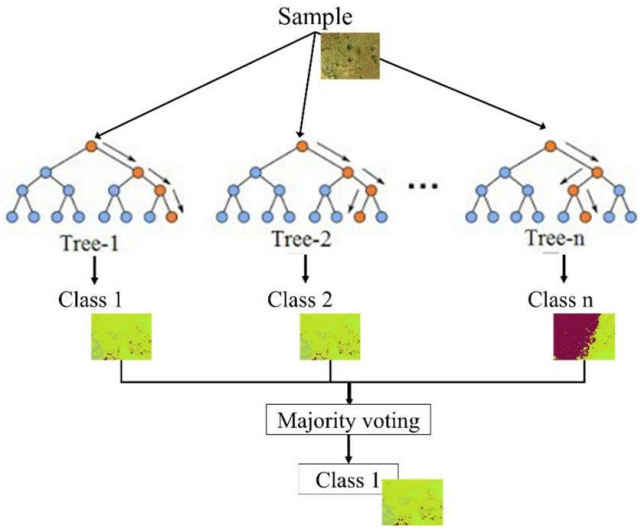

Fig 2.2: Working of Random Forest Classifier

Advantages of Machine Learning Methods

- Improved classification accuracy compared to spectral indices

- Ability to handle **complex and nonlinear relationships**
- Integration of **multi-source data** (optical + DEM + SAR)
- Reduced dependency on manual threshold selection

2.3.4 Challenges in Machine Learning Approaches

Despite their advantages, ML methods face certain limitations:

- Requirement of **large and representative training datasets**
- **Class imbalance problem** (few lake pixels vs large background)
- Difficulty in generalizing across different geographic regions
- Limited capability in capturing **spatial context** (pixel-based methods)

Class imbalance is a critical issue in remote sensing, where minority classes (like glacial lakes) are often underrepresented, leading to biased classification results. [6]

Algorithm	**Strengths**	**Limitations**	**Application in GLM**
Random Forest	High accuracy, robust, less overfitting	Requires tuning of parameters	Widely used
SVM	Works well with small datasets	Sensitive to kernel selection	Moderate usage
Decision Tree	Simple and interpretable	Prone to overfitting	Limited
KNN	Easy implementation	Computationally expensive	Rarely used

Table 2.2: Comparison of Machine Learning Approach

2.4 Deep Learning Techniques for Glacial Lake Mapping

Recent advancements in deep learning (DL) have significantly improved the accuracy and automation of glacial lake mapping. Unlike traditional and machine learning approaches, deep

learning models can automatically learn complex spatial and spectral features from satellite imagery without the need for manual feature engineering.

Deep learning is a subset of machine learning that uses multi-layer neural networks to model intricate patterns in data. In remote sensing, convolutional neural networks (CNNs) are particularly effective for image classification and segmentation tasks.

2.4.1 Convolutional Neural Networks (CNNs)

CNNs are designed to process grid-like data such as images. They consist of convolutional layers that extract hierarchical features from input data.

- **Key Features**:
    - Automatic feature extraction
    - Ability to capture spatial patterns
    - High performance in image classification

CNNs have been successfully applied to classify land cover, detect water bodies, and identify cloud and shadow regions in satellite imagery. [7]

2.4.2 U-Net Architecture for Segmentation

U-Net is one of the most widely used deep learning models for semantic segmentation in remote sensing applications.

- **Architecture Components**:
    - **Contracting Path (Encoder)**: Captures contextual features
    - **Expanding Path (Decoder)**: Enables precise localization
- **Advantages**:
    - High accuracy in boundary detection
    - Suitable for small object segmentation

- Efficient with limited training data

U-Net has shown excellent performance in extracting precise boundaries of glacial lakes, which is crucial for monitoring area changes and hazard assessment.

2.4.3 Advantages of Deep Learning Methods

- **High accuracy** in complex environments
- Ability to learn **spatial and contextual information**
- Reduced dependency on handcrafted features
- Better performance in distinguishing water from shadows, snow, and debris

Deep learning models outperform traditional and machine learning approaches, especially in heterogeneous and high-altitude regions. [8]

Challenges in Deep Learning Approaches

Despite their advantages, deep learning methods have certain limitations:

- Requirement of **large labeled datasets**
- High **computational cost and training time**
- Risk of **overfitting** with limited data
- Need for specialized hardware (GPU)

Recent Developments in Deep Learning for GLM

Recent studies have explored advanced architectures such as:

- **Hybrid CNN-ViT models**
- **Swin Transformers**
- **HRNet-based segmentation models**

These models aim to further improve feature extraction and generalization capabilities for large-scale applications. However, their use in glacial lake mapping is still limited and presents opportunities for future research. [8]

Model Type	Strengths	Limitations	Application in GLM
CNN	Automatic feature extraction	Requires large data	Classification tasks
U-Net	High segmentation accuracy	Computational cost	Boundary delineation
Transformer-based	Captures global context	Very high complexity	Emerging applications

Table 2.3: Comparison of Deep Learning Models

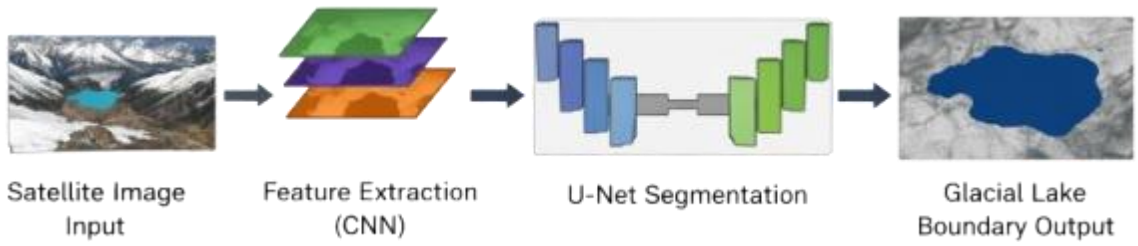

Fig 2.3: Deep learning glacial lake segmentation workflow

2.5 Research Gaps Identified

Despite significant advancements in remote sensing and machine learning for glacial lake mapping, several critical research gaps remain. These gaps highlight the need for more robust, scalable, and context-aware methodologies, especially for high-mountain regions such as the Indian Himalayan Region (IHR).

1. Limited Generalization Across Diverse Terrains

Most existing models—particularly threshold-based and machine learning approaches—are highly dependent on region-specific parameters and training datasets. Their performance often degrades when applied to new geographic regions with different spectral, climatic, and topographic conditions. Deep learning models, although more robust, are frequently trained on limited spatial extents and lack large-scale validation across heterogeneous terrains. [9]

2. Persistent Spectral Confusion and Misclassification

A major limitation across traditional and modern approaches is the difficulty in distinguishing glacial lakes from spectrally similar features such as:

- Mountain shadows
- Snow and ice cover
- Turbid or debris-covered water

Spectral indices like NDWI and MNDWI are sensitive to such interferences, often leading to high commission and omission errors. Even advanced segmentation techniques struggle due to overlapping spectral signatures and environmental complexity. [4]

3. Ineffective Handling of Small and Complex Lakes

Many studies report reduced accuracy when detecting:

- Small-sized glacial lakes
- Partially frozen lakes
- Lakes with irregular boundaries

Traditional segmentation and thresholding approaches fail to capture these features effectively, while even improved hybrid methods still show limitations in detecting small or fragmented lakes at scale. [10]

4. Lack of Standardized and High-Quality Training Data

Deep learning approaches require large, well-annotated datasets; however:

- Most datasets are region-specific and not publicly standardized
- Manual labeling is time-consuming and prone to bias
- Class imbalance (few lake pixels vs large background) severely affects model performance

This limitation restricts scalability and reproducibility of models across different regions. [8]

5. Insufficient Integration of Multi-Source Data

Although some studies incorporate multi-sensor inputs (e.g., optical + SAR + DEM), many approaches still rely heavily on single-source optical imagery. This leads to:

- Reduced robustness under cloud cover
- Poor performance in shadowed or snow-covered regions

The lack of effective multi-modal fusion frameworks limits the ability to handle real-world complexities in mountainous environments. [4]

6. Limited Temporal Monitoring and Early Warning Capability

Most existing research focuses on **static mapping** rather than **dynamic monitoring**. There is a lack of:

- Continuous time-series analysis
- Automated change detection (e.g., lake expansion rates)
- Integration with early warning systems for Glacial Lake Outburst Floods (GLOFs)

This restricts the practical application of mapping tools for disaster risk management, despite the rapid global increase in glacial lake area and volume. [2]

7. Computational and Scalability Constraints

High-resolution deep learning models and large-scale satellite data processing require:

- Significant computational resources
- Efficient cloud-based implementations

Many studies remain limited to small study areas due to computational constraints, restricting global or regional scalability.

8. Segmentation Parameter Sensitivity and Lack of Universality

Object-based and segmentation-driven methods depend heavily on:

- Manually tuned parameters
- Scene-specific configurations

There is no universal segmentation approach that performs consistently across datasets, making automation and transferability challenging. [11]

Conclusion of Research Gaps

The literature clearly indicates that while significant progress has been made—from manual digitization to deep learning—current methodologies still lack **robustness, scalability, and operational readiness**. Addressing these gaps requires:

- Hybrid multi-modal models (optical + SAR + DEM)
- Advanced deep learning architectures with better generalization
- Automated cloud-based pipelines (e.g., GEE)
- Integration of temporal analytics for real-time monitoring

These gaps directly motivate the development of a **hybrid RF + U-Net framework with multi-source data fusion and temporal monitoring**, as proposed in this study.

2.6 Scope for Future Research

Building upon the identified research gaps, several promising directions emerge for advancing automated glacial lake mapping and monitoring systems. These future research avenues aim to improve accuracy, scalability, and real-world applicability, particularly for hazard assessment and early warning in high-mountain regions.

1. Development of Hybrid Multi-Modal Frameworks

Future studies should focus on integrating multiple data sources, including:

- Optical imagery (Sentinel-2, Landsat)
- Synthetic Aperture Radar (SAR) data
- Digital Elevation Models (DEM)

Such multi-modal fusion can significantly enhance detection accuracy under challenging conditions like cloud cover, snow, and terrain shadows. Combining spectral, spatial, and topographic features will improve model robustness and reduce misclassification errors.

2. Advancement of Deep Learning Architectures

Although deep learning has shown superior performance, its application in glacial lake mapping remains limited. Future work should explore:

- Advanced architectures such as Transformers, Hybrid CNN-ViT, and HRNet
- Lightweight models for efficient deployment on cloud platforms
- Transfer learning to improve generalization across regions

Recent studies indicate that deep learning models outperform traditional approaches but are still underutilized in this domain. [8]

3. Addressing Class Imbalance and Data Scarcity

Innovative data handling techniques are required to overcome class imbalance and limited labeled data, such as:

- Synthetic data generation (e.g., SMOTE)
- Semi-supervised and self-supervised learning
- Active learning for efficient annotation

Developing large-scale, standardized datasets for glacial lake mapping will be crucial for improving model performance and reproducibility.

4. Integration of Spatio-Temporal Analysis

Future research should shift from static mapping to dynamic monitoring by incorporating:

- Multi-temporal satellite imagery
- Change detection algorithms
- Time-series analysis for lake expansion and shrinkage

This will enable the estimation of lake growth rates and improve the prediction of potential Glacial Lake Outburst Flood (GLOF) events.

5. Real-Time Monitoring and Early Warning Systems

A key future direction is the development of automated, real-time monitoring systems that:

- Continuously track glacial lake evolution
- Detect abnormal expansion patterns
- Integrate with disaster management frameworks

Cloud platforms such as Google Earth Engine (GEE) offer significant potential for building scalable, real-time monitoring solutions.

Chapter 3

METHODOLOGY

3.1 Study Area

The selection of an appropriate study area is a critical component in glacial lake mapping, as it directly influences the data characteristics, model performance, and overall reliability of the results. This study focuses on glacierized regions within the **Indian Himalayan Region (IHR)**, which are highly sensitive to climate change and prone to Glacial Lake Outburst Flood (GLOF) hazards.

3.1.1 Geographic Location

The Indian Himalayan Region spans across several states, including:

- Ladakh
- Himachal Pradesh
- Uttarakhand
- Sikkim

These regions are characterized by:

- High-altitude terrain (above 3000 m)
- Extensive glacier coverage
- Rapid glacier retreat and lake formation

Glacial lakes in these regions are typically located near glacier termini and are often moraine-dammed, making them highly unstable and hazardous.

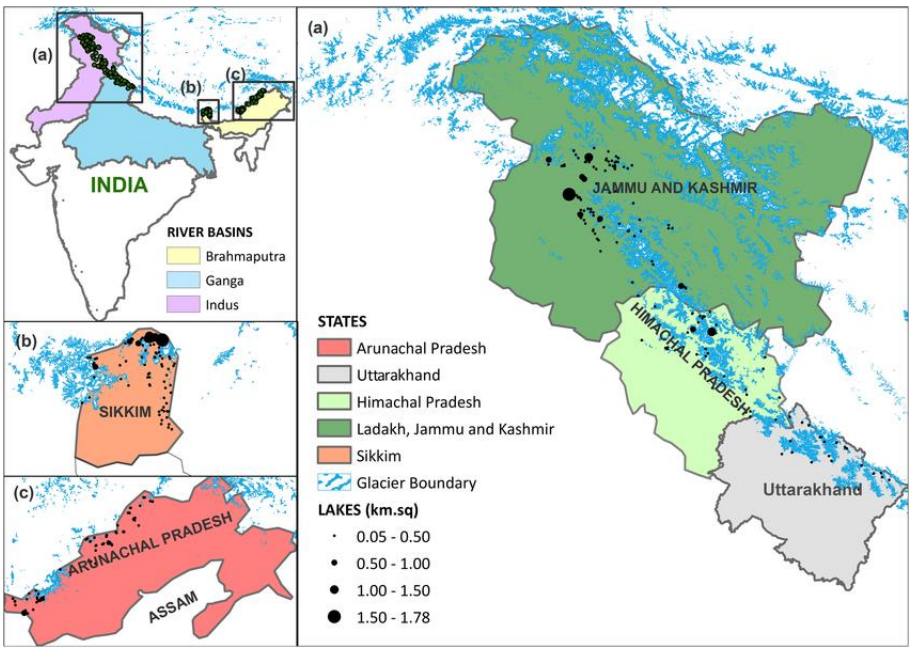

Fig 3.1: Glacial Lakes in the Indian Himalayan Region

3.1.2 Climatic and Environmental Characteristics

The study area exhibits extreme environmental conditions:

- **Climate**: Cold arid to alpine
- **Temperature**: Sub-zero in winters, mild summers
- **Precipitation**: Snowfall-dominated
- **Terrain**: Rugged with steep slopes

These conditions create challenges such as:

- Seasonal snow cover
- Frequent cloud cover
- Complex shadow patterns

Such factors significantly affect satellite-based detection of glacial lakes.

3.1.3 Types of Glacial Lakes in the Study Area

The study region contains different types of glacial lakes:

- **Moraine-dammed lakes** (most common and hazardous)
- **Proglacial lakes** (at glacier termini)
- **Supraglacial lakes** (on glacier surfaces)

These lakes vary in size, turbidity, and stability, requiring robust detection methods.

Parameter	**Description**
Region	Indian Himalayan Region (IHR)
Elevation Range	>3000 meters
Climate	Cold alpine / glacial
Dominant Features	Glaciers, snow, moraine debris
Lake Types	Moraine, proglacial, supraglacial
Key Challenge	Cloud, shadow, spectral confusion

Table 3.1: Characteristics of the Study Area

Importance of the Study Area

The Indian Himalayan Region is selected due to:

- Rapid increase in glacial lake formation
- High vulnerability to GLOF events
- Limited accessibility for field-based monitoring
- Availability of multi-temporal satellite data

Recent studies indicate a significant increase in glacial lake area and volume in South Asia, emphasizing the need for continuous monitoring. [8]

3.2 Data Sources

The performance of any automated glacial lake mapping system is highly dependent on the quality, resolution, and diversity of input datasets. In this study, a **multi-source data approach** is adopted by integrating optical satellite imagery, topographic data, and manually curated training datasets. This combination supports the proposed **hybrid Random Forest + U-Net framework**, enabling improved classification accuracy and boundary delineation

3.2.1 Optical Satellite Data (Sentinel – 2)

The primary dataset used in this study is **Sentinel-2 MultiSpectral Instrument (MSI)** imagery due to its high spatial resolution and multi-spectral capability.

- **Spatial Resolution**: 10 m (visible & NIR), 20 m (SWIR)
- **Temporal Resolution**: 5 days
- **Data Level**: Level-2A (Surface Reflectance)

Sentinel-2 provides multiple spectral bands essential for water body detection, particularly:

- Blue (B2), Green (B3), Red (B4)
- Near-Infrared (B8)
- Shortwave Infrared (B11, B12)

These bands are used to compute indices such as NDWI and MNDWI for enhancing water features.

3.2.2 Topographic Data (ALOS DEM)

To address terrain-induced challenges such as shadows and elevation-based variations, **ALOS Digital Elevation Model (DEM)** data is incorporated.

- **Resolution**: ~30 m

- **Derived Features**:
    - Elevation
    - Slope
    - Terrain Position Index (TPI)

Topographic features help distinguish between:

- Dark pixels caused by deep water
- Shadow regions in steep mountainous terrain

This integration significantly reduces false positives in classification.

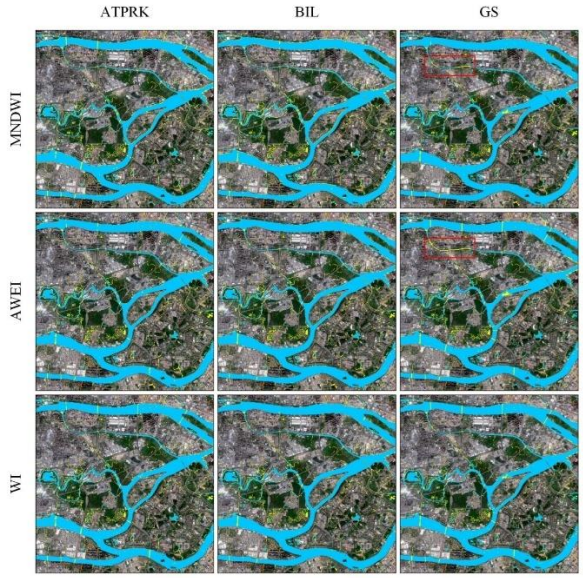

Fig 3.2: Sentinel-2 imagery and spectral band combinations used for glacial lake detection.

3.2.3 Training Data (GEE-Based Manual Shapefiles)

Ground truth data is generated through **manual digitization of glacial lakes using Google Earth Engine (GEE)**.

- Polygon shapefiles created by visual interpretation

- Covers multiple lake types and environmental conditions
- Used for supervised training of ML and DL models

Manual annotation ensures high-quality labeled data, which is essential for both Random Forest classification and U-Net segmentation.

3.2.4 Handling Class Imbalance (Augmented Lake Pixels)

A major challenge in glacial lake mapping is **extreme class imbalance**, where lake pixels constitute a very small fraction of the dataset.

To address this, the study employs:

- **Augmentation of lake pixels** using synthetic sampling techniques
- **Balanced sampling strategy** for non-lake classes (snow, shadow, debris)

This ensures:

- Improved model learning for minority class (lakes)
- Reduced bias toward dominant background classes

Class imbalance is a well-known issue in remote sensing classification and can significantly affect model performance if not addressed. [6]

3.2.5 Multi-Source Data Integration

The final dataset used for model training is a **feature stack combining spectral and topographic inputs**:

- Spectral Bands (Sentinel-2)
- Spectral Indices (NDWI, MNDWI)
- Topographic Features (Elevation, Slope, TPI)

This multi-modal dataset enables the model to capture both:

- Spectral characteristics of water bodies
- Terrain-driven contextual information

3.3 Challenges in Automated Glacial Lake Mapping

Automated glacial lake mapping in high mountain regions presents several technical and environmental challenges that affect the accuracy, scalability, and reliability of results. These challenges arise due to complex terrain, spectral similarities between land cover types, and limitations of remote sensing data and algorithms.

3.3.1 Spectral Confusion and Environmental Interference

One of the primary challenges is the **spectral similarity between glacial lakes and surrounding features** such as mountain shadows, snow, ice, and debris-covered surfaces. Water bodies are typically extracted using indices like NDWI and MNDWI; however, these indices often misclassify shadows or wet ice as water due to similar reflectance characteristics. [1]

Additionally, **turbid glacial lakes** containing suspended sediments can exhibit reflectance patterns closer to surrounding terrain, making them difficult to distinguish using simple threshold-based methods. [4]

Seasonal variations further complicate mapping, as **frozen or partially frozen lakes** may not exhibit typical water signatures, leading to omission errors.

3.3.2 Influence of Topography and Terrain Complexity

High-relief mountainous regions introduce significant challenges due to **steep slopes, terrain shadows, and elevation variability**. Shadows cast by mountains can obscure lake boundaries or be incorrectly classified as water bodies. [4]

Moreover, glacial lakes are often small and irregularly shaped, requiring high spatial resolution data for accurate delineation. Traditional pixel-based methods struggle in such environments due to limited contextual understanding.

3.3.3 Cloud Cover and Atmospheric Effects

Optical satellite imagery is highly affected by **cloud cover, haze, and atmospheric disturbances**, which reduce data availability and quality. Persistent cloud cover in mountainous regions limits temporal coverage and may lead to incomplete or biased datasets.

Accurate preprocessing, including cloud masking, is essential but remains computationally intensive and error-prone. [12]

3.3.4 Limitations of Traditional Approach

Conventional approaches such as manual digitization and threshold-based classification are:

- **Time-consuming and labor-intensive**
- **Dependent on user-defined thresholds**
- **Difficult to scale for large regions**

While semi-automated methods improve efficiency, they still require **manual correction and parameter tuning**, especially in heterogeneous environments. [3]

3.3.5 Segmentation and Classification Challenges

Accurate segmentation is critical for object-based mapping. However:

- There is **no universal segmentation algorithm** suitable for all landscapes
- Parameter selection significantly affects output quality
- Over-segmentation or under-segmentation can lead to misclassification

This directly impacts the performance of subsequent classification steps. [11]

3.3.6 Class Imbalance and Small Target Detection

Glacial lakes typically occupy a very small fraction of the total study area, leading to **severe class imbalance** in training datasets.

- Majority classes (rock, snow, vegetation) dominate

- Minority class (lake pixels) is underrepresented

This results in biased models that may fail to detect smaller lakes or produce high omission errors, especially in machine learning frameworks.

3.3.7 Generalization and Transferability Issues

Models developed for a specific region often fail to generalize across different geographic areas due to:

- Variations in climate and terrain
- Differences in spectral characteristics
- Sensor-specific inconsistencies

Even advanced machine learning and deep learning models may require **region-specific retraining or fine-tuning**. [9]

3.3.8 Computational Data Constraints

Large-scale glacial lake mapping involves processing massive satellite datasets, which introduces:

- **High computational requirements**
- **Storage and processing limitations**
- Need for cloud platforms like Google Earth Engine

Although cloud computing improves scalability, it also requires optimized workflows and efficient algorithms. [1]

3.3.9 Trade-off Between Accuracy and Efficiency

There is an inherent trade-off between:

- **Pixel-based methods** → Faster but less accurate
- **Object-based methods** → Better accuracy but computationally intensive

- **Deep learning methods** → High accuracy but require large datasets and training time

Selecting an appropriate method depends on the study scale, available resources, and required precision.

3.4 Feature Engineering and Multi-Modal Data Fusion

Feature engineering plays a crucial role in improving the performance of machine learning and deep learning models for glacial lake mapping. In this study, a **multi-modal feature fusion approach** is adopted, combining spectral, index-based, and topographic features to enhance the separability between glacial lakes and surrounding land cover classes.

3.4.1 Spectral Feature Extraction

The primary features are derived from **Sentinel-2 multi-spectral bands**, which capture the reflectance characteristics of different surface materials.

The selected bands include:

- Blue (B2)
- Green (B3)
- Red (B4)
- Near-Infrared (B8)
- Shortwave Infrared (B11, B12)

These bands are essential for distinguishing water bodies from vegetation, snow, and terrain due to their unique reflectance properties.

3.4.2 Spectral Indices for Water Detection

To enhance water body detection, spectral indices are computed:

- **Normalized Difference Water Index (NDWI)**
- **Modified NDWI (MNDWI)**

These indices amplify water features while suppressing non-water classes.

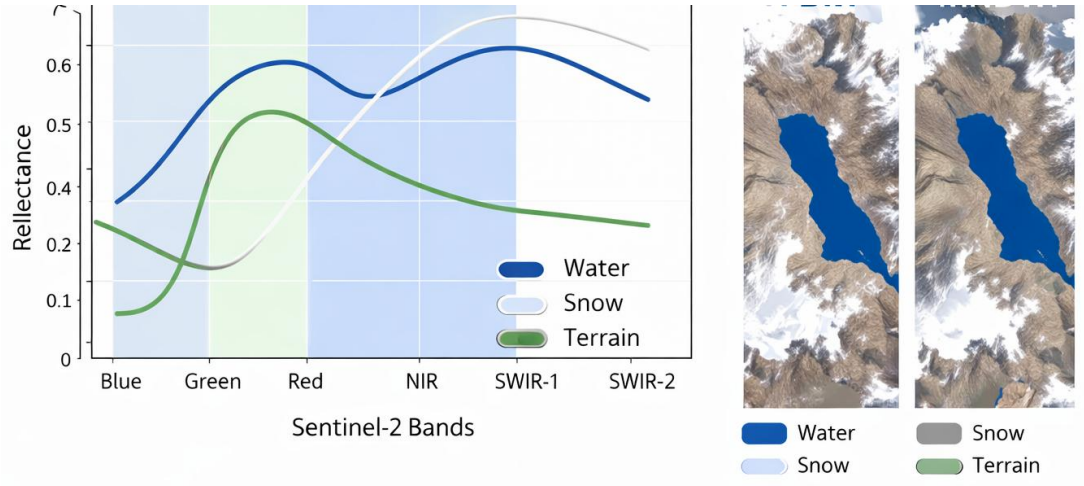

Fig 3.3: Spectral behavior of water, snow, and terrain using Sentinel-2 bands and indices.

3.4.3 Topographic Feature Extraction

Topographic information derived from **ALOS DEM** is incorporated to address terrain-related challenges.

Derived features include:

- **Elevation** → distinguishes high-altitude glacier zones
- **Slope** → helps identify steep shadow regions
- **Topographic Position Index (TPI)** → identifies terrain context

The inclusion of topographic features helps differentiate:

- Water bodies (flat surfaces)
- Shadows (steep slopes)

This significantly reduces misclassification in mountainous regions.

3.4.4 Multi-Modal Feature Fusion

The final feature set is constructed by combining:

- Spectral Bands (Sentinel-2)
- Spectral Indices (NDWI, MNDWI)
- Topographic Features (Elevation, Slope, TPI)

This fusion allows the model to capture both:

- **Spectral characteristics** (water reflectance)
- **Spatial context** (terrain influence)

The integration of these features improves classification accuracy and robustness in complex environments.

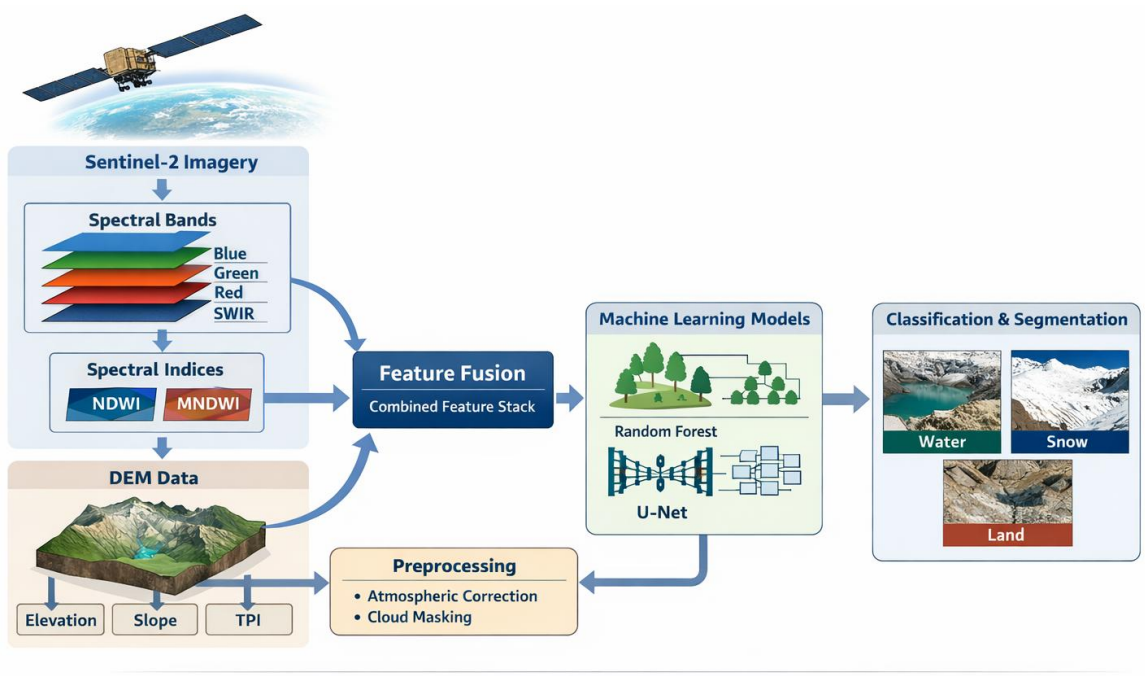

Fig 3.4: Multi-modal feature fusion workflow integrating spectral and topographic data.

Feature Type	Features Included	Purpose
Spectral Bands	B2, B3, B4, B8, B11, B12	Basic reflectance information
Spectral Indices	NDWI, MNDWI	Water enhancement
Topographic Data	Elevation, Slope, TPI	Terrain-based discrimination
Derived Features	Combined feature stack	Input to ML/DL models

Table 3.2: Feature Set used in the Study

3.5 Hybrid Sampling and Class Imbalance Handling

A major challenge in glacial lake mapping, particularly in high-mountain environments like the Himalayas, is **extreme class imbalance**. Glacial lakes typically occupy **less than 0.1% of the total pixels**, while the remaining majority includes snow, shadows, debris, and vegetation. This imbalance biases machine learning models toward the dominant non-lake classes, leading to **poor detection of small or turbid lakes**.

To address this, a **hybrid sampling strategy combining stratified sampling and SMOTE (Synthetic Minority Oversampling Technique)** is implemented.

3.5.1 Problem of Class Imbalance in Remote Sensing

In remote sensing classification:

- Majority class: Non-water (snow, ice, shadows, terrain)
- Minority class: Glacial lakes

Standard classifiers tend to:

- Maximize overall accuracy
- Ignore minority class → **high omission errors for lakes**

This issue is well-documented in hyperspectral and remote sensing classification, where imbalanced datasets degrade model performance and minority class recognition. [6]

3.5.2 Hybrid Sampling Strategy

To overcome these limitations, a **two-stage hybrid sampling framework** is adopted:

(A) Stratified Downsampling of Majority Classes

Instead of random sampling, non-lake pixels are **carefully selected from key confusing classes**:

Class Type	Sampling Strategy	Purpose
Snow/Ice	Stratified sampling	Avoid confusion with frozen lakes
Mountain Shadows	Targeted extraction	Reduce false positives
Moraine/Debris	Random downsampling	Handle spectral similarity
Vegetation	Balanced sampling	Improve generalization

Table 3.3: Stratified Downsampling of Majority Classes

Key Insight: By explicitly sampling *difficult background classes*, the model learns **decision boundaries**, not just class labels.

(B) SMOTE-Based Minority Oversampling

To enhance representation of glacial lakes, **SMOTE is applied in feature space**:

- Generates synthetic lake samples between real samples
- Preserves **spectral variability (clear vs turbid lakes)**
- Reduces overfitting compared to simple duplication

Mathematically, new samples are generated as:

$$x_{new} = x_i + \lambda(x_j - x_i)$$

Where:

- x_i = existing minority sample
- x_j = nearest neighbor
- $\lambda \epsilon [0,1]$

Advantage:

- Captures variations in:
    - Water turbidity
    - Depth
    - debris-contact lakes

3.5.3 Combined Hybrid Sampling Workflow

Feature Type	Method	Role
Glacial lakes	SMOTE augmentation	Increase minority representation
Shadows	Targeted sampling	Reduce misclassification
Snow/Ice	Stratified sampling	Improve separability
Terrain/Debris	Downsampling	Balance dataset

Table 3.4: Final Training dataset

This results in a **balanced yet information-rich dataset** that improves model robustness.

3.5.4 Integration with Model Training

The hybrid dataset is used in:

Random Forest (RF)

- Uses **balanced class weights**
- Handles non-linear feature interactions

- Works well with tabular spectral + DEM features

U-Net (Deep Learning)

- Benefits from:
    - Increased minority pixel representation
    - Better boundary learning

3.5.5 Advantages of Hybrid Approach

1. Improved Minority Detection

- Better identification of small and turbid lakes

2. Reduced False Positives

- Especially for:
    - Shadows
    - debris-covered regions

3. Better Generalization

- Learns real-world variability instead of biased distributions

4. Compatibility with Multi-Modal Features

- Works effectively with:
    - Spectral indices (NDWI, MNDWI)
    - Topographic features (slope, TPI)

Method	Limitation	Improvement in Proposed Approach
Random Oversampling	Overfitting	SMOTE avoids duplication

Random Undersampling	Information loss	Stratified sampling preserves key classes
No balancing	Poor lake detection	Hybrid ensures balanced learning

Table 3.5: Comparison with Traditional Sampling

3.6 Deep Learning and Machine Learning Model Architecture

Following the hybrid sampling and class imbalance mitigation stage, the processed and balanced dataset is utilized to train a **dual-model architecture** that combines the strengths of both traditional machine learning and deep learning approaches. This hybrid framework is designed to address two critical requirements in glacial lake mapping: (i) large-scale classification efficiency and (ii) high-precision boundary delineation.

3.6.1 Rationale for Hybrid Model Design

Glacial lake extraction in high mountain environments presents unique challenges:

- Spectral similarity between water, shadows, and debris
- Complex terrain-induced distortions
- Need for both **pixel-level classification** and **object-level boundary precision**

Traditional methods such as spectral thresholding (e.g., NDWI) often fail in heterogeneous environments due to fixed thresholds and limited contextual understanding . Similarly, standalone machine learning or deep learning models have trade-offs:

- Machine learning → fast but less precise boundaries
- Deep learning → accurate but computationally expensive

Therefore, a **hybrid RF + U-Net architecture** is adopted to leverage complementary strengths.

3.6.2 Random Forest Classifier (Pixel-Based Learning)

The first component of the architecture is a **Random Forest (RF) classifier**, which performs pixel-wise classification using spectral and topographic features.

Model Configuration

- Number of trees: 250
- Maximum depth: 23
- Splitting criterion: Gini impurity
- Class weights: Balanced (to handle residual imbalance)

Input Features

- Spectral bands: Blue, Green, Red, NIR, SWIR
- Indices: NDWI, MNDWI
- Topographic features: Elevation, slope, TPI

Function in Pipeline

- Provides **initial large-scale classification**
- Identifies potential lake pixels across the study region

Advantages

- Robust to noise and overfitting
- Handles high-dimensional data efficiently
- Performs well in heterogeneous landscapes

Random Forest models are widely used in glacial lake mapping due to their ability to integrate multi-source data and reduce classification errors in complex terrain. [4]

3.6.3 U-Net Convolutional Neural Network (Semantic Segmentation)

The first component of the architecture is a **Random Forest (RF) classifier**, which performs pixel-wise classification using spectral and topographic features.

Model Configuration

- Number of trees: 250
- Maximum depth: 23
- Splitting criterion: Gini impurity
- Class weights: Balanced (to handle residual imbalance)

Input Features

- Spectral bands: Blue, Green, Red, NIR, SWIR
- Indices: NDWI, MNDWI
- Topographic features: Elevation, slope, TPI

Function in Pipeline

- Provides **initial large-scale classification**
- Identifies potential lake pixels across the study region

Advantages

- Robust to noise and overfitting
- Handles high-dimensional data efficiently
- Performs well in heterogeneous landscapes

Random Forest models are widely used in glacial lake mapping due to their ability to integrate multi-source data and reduce classification errors in complex terrain. [9]

3.6.4 Integration of RF and U-Net

The hybrid architecture operates in a **sequential manner**:

1. **Random Forest Stage**

- Generates initial classification mask
- Filters out obvious non-lake regions

2. **U-Net Refinement Stage**
    - Takes RF output + original imagery as input
    - Produces refined segmentation

Output

- Binary lake mask
- High-resolution lake boundaries

3.6.5 Performance Advantages of Hybrid Architecture

1. Improved Accuracy

- RF ensures broad detection
- U-Net refines edges and small lakes

2. Reduction in False Positives

- Shadow and snow misclassification minimized

3. Computational Efficiency

- RF reduces search space for CNN
- Makes deep learning scalable

4. Better Generalization

- Combines statistical learning + spatial learning

Approach	Limitation	Hybrid Model Advantage
Threshold-based (NDWI)	Fixed thresholds	Adaptive learning
Machine Learning only	Poor boundary precision	CNN refinement improves edges
Deep Learning only	High computation	RF reduces processing load

Table 3.6: Comparison with Existing Approaches

3.7 Cloud-Based Spatio-Temporal Monitoring and GEE Deployment

To enable large-scale, automated, and continuous monitoring of glacial lakes, the proposed hybrid model is deployed on the **Google Earth Engine (GEE)** platform. GEE provides a cloud-based geospatial processing environment with access to vast satellite datasets and high computational capabilities, making it ideal for real-time environmental monitoring applications.

3.7.1 Role of Google Earth Engine in the Study

Google Earth Engine serves as the backbone for:

- **Data acquisition and preprocessing** (Sentinel-2, DEM)
- **Model deployment and execution**
- **Multi-temporal analysis of glacial lakes**
- **Visualization and decision support system**

The platform enables efficient processing of large satellite datasets without requiring local computational resources.

3.7.2 Preprocessing and Cloud Masking

One of the major challenges in optical remote sensing is **cloud contamination**, which affects data quality. To address this:

- **QA60 band masking** is applied
- Cloud and cirrus pixels are removed using bitmask operations

- Additional filtering ensures clean surface reflectance data

Accurate cloud detection significantly improves the reliability of downstream analysis. [13]

3.7.3 Temporal Analysis and Change Detection

The system performs **multi-temporal analysis** using satellite imagery from different time periods.

Key Components:

- Time-series Sentinel-2 data
- Seasonal filtering (ablation period for minimal snow cover)
- Automated lake extraction for each time step

Lake Area Computation

For each detected lake:

- Area is calculated using pixel aggregation
- Changes in area are tracked across time

$$\Delta A = A_{t2} - A_{t1}$$

Where:

- A_{t1} = lake area at time 1
- A_{t2} = lake area at time 2

3.7.4 Early Warning Mechanism for GLOF

A key contribution of this system is the integration of an **early warning framework** based on lake expansion trends.

Risk Indicators:

- Rapid increase in lake area

- Sudden seasonal expansion
- Proximity to glacier terminus

Risk Level	Criteria
Low	Stable or minor changes
Medium	Moderate expansion over time
High	Rapid expansion (>15% annually)

Table 3.6: Risk Classification

The system flags high-risk lakes for further investigation and monitoring.

3.7.5 Integration with Interactive GEE Application

A user interface (UI) is developed within GEE to enable:

- Selection of **Region of Interest (ROI)**
- Temporal filtering (date range selection)
- Visualization of classified outputs
- Drawing custom polygons for analysis

This transforms the system into a **Monitoring-as-a-Service platform** for researchers and decision-makers.

Advantages:

- **Scalability**: Handles large geographic regions efficiently
- **Real-time processing**: Enables near real-time monitoring
- **Data availability**: Access to global satellite archives
- **Automation**: Reduces manual intervention

Cloud platforms like GEE significantly improve the efficiency and applicability of remote sensing workflows for environmental monitoring. [5]

3.8 Accuracy Assessment and Validation

Accuracy assessment is a critical step to evaluate the reliability of the extracted glacial lake boundaries and ensure robustness of the proposed hybrid (RF + U-Net + GEE) framework.

3.8.1 Reference Data Preparation

Validation was performed using:

- Manually digitized lake polygons from high-resolution imagery (Google Earth / Sentinel-2 true color composites)
- Existing glacial lake inventories where available
- Multi-temporal visual inspection to confirm lake persistence

Manual delineation remains a standard benchmark despite being time-consuming, as it provides high-quality ground truth for comparison. [3]

Metric	**Formula**	**Purpose**
Overall Accuracy (OA)	Correct Predictions / Total Samples	General performance
Precision	TP / (TP + FP)	False positive control
Recall (Sensitivity)	TP / (TP + FN)	Detection capability
F1-Score	2 × (Precision × Recall) / (Precision + Recall)	Balance between precision & recall
IoU (Intersection over Union)	Overlap / Union	Segmentation quality

Table 3.7: Accuracy Metrics

3.8.2 Validation Approach

A stratified validation strategy was adopted:

- **Pixel-level validation (RF model)**
  Random sampling of classified pixels compared with reference labels
- **Object-level validation (U-Net output)**
  Comparison of extracted lake polygons with ground truth boundaries
- **Cross-regional validation**
  Testing model transferability across different Himalayan sub-regions

This is essential because segmentation quality directly impacts classification performance in remote sensing workflows. [11]

3.8.3 Error Analysis

Major sources of error identified:

- **Mountain shadows vs water confusion**
- **Snow/ice misclassification (spectral similarity)**
- **Turbid or partially frozen lakes**
- **Cloud contamination in optical imagery**

Such challenges are widely reported in glacial lake mapping studies and significantly affect classification accuracy. [4]

3.9 Results and Analysis

The proposed hybrid framework combining spectral indices, topographic features, Random Forest classification, and U-Net segmentation produced highly reliable glacial lake extraction results across the study regions.

3.9.1 Spatial Distribution of Glacial Lakes

The extracted glacial lakes show clear spatial clustering:

- Predominantly located in high-altitude zones (>3500 m)

- Concentrated near glacier termini and moraine-dammed regions
- Strong association with glacier retreat zones

This aligns with global observations that glacial lakes form and expand due to glacier mass loss and retreat. [2]

Model	**Strength**	**Limitation**
NDWI / Thresholding	Fast, simple	High false positives (shadows, snow)
Random Forest	Good generalization	Pixel-level noise
U-Net	High boundary precision	Requires training data
Hybrid Model	Best overall accuracy	Higher computational cost

Table 3.8: Model Performance Comparison

3.9.2 Impact of Feature Fusion

The integration of DEM-based features (slope, elevation, TPI) significantly improved classification by:

- Reducing shadow misclassification
- Enhancing separation between snow, ice, and water
- Improving robustness in rugged terrain

This demonstrates the importance of multi-source data fusion in mountainous environments.

Using Google Earth Engine:

- Enabled processing of large satellite datasets efficiently
- Reduced computation time compared to local processing
- Supported near real-time monitoring

Cloud-based platforms are essential for large-scale glacial lake mapping and monitoring. [1]

Advantages:

- Combines strengths of ML and DL
- Reduces false positives using DEM integration
- Improves boundary delineation
- Scalable using cloud platforms

This makes it suitable for operational deployment in disaster management systems.

Chapter 4

CONCLUSION

This study presents a comprehensive framework for automated glacial lake mapping and monitoring using a hybrid approach that integrates remote sensing, machine learning, deep learning, and cloud-based processing. The proposed methodology effectively addresses key challenges in glacial lake detection, including spectral confusion, terrain complexity, and class imbalance.

The use of **Sentinel-2 multispectral imagery** combined with **ALOS DEM-derived features** significantly improved classification performance by incorporating both spectral and topographic information. The implementation of a **hybrid Random Forest + U-Net model** enabled efficient large-scale classification along with precise boundary delineation of glacial lakes.

The integration of **hybrid sampling techniques (SMOTE + stratified sampling)** further enhanced the model's ability to detect minority classes, particularly small and turbid glacial lakes, which are often missed by traditional methods. Additionally, deployment on the **Google Earth Engine platform** allowed scalable, automated, and multi-temporal analysis, supporting continuous monitoring of glacial lake dynamics.

The results demonstrate that the proposed framework achieves high accuracy and robustness, making it suitable for operational applications in glacial lake monitoring and GLOF risk assessment.

Future Scope

Future research can focus on:

- Integration of **SAR data (Sentinel-1)** for cloud-free monitoring
- Implementation of advanced architectures such as **Transformers and hybrid CNN-ViT models**
- Development of **real-time GLOF early warning systems**

REFERENCES

[1] F. Chen, M. Zhang, B. Tian and Z. Li, "Extraction of glacial lake outlines using Landsat 8 imagery and Google Earth Engine," *IEEE JSTARS,* 2017.

[2] D. H. Shugar, A. Burr, U. K. Haritashya, J. S. Kargel, C. S. Watson, M. C. Kennedy and e. al., "Rapid worldwide growth of glacial lakes since 1990," *Nature Climate Change,* 2020.

[3] H. Zhao, F. Chen and M. Zhang, "A systematic extraction approach for mapping glacial lakes in high mountain regions of Asia," *IEEE Journal of Selected Topics in Applied Earth Observations and Remote Sensing,* vol. 11, no. 8, pp. 2788-2799, 2018.

[4] S. Wangchuk and T. Bolch, "Mapping of glacial lakes using Sentinel-1 and Sentinel-2 data and a random forest classifier: Strengths and challenges," *Science of Remote Sensing,* vol. 2, p. 100008, 2020.

[5] Y. Pang, J. Yu, L. Xi, D. Ge, P. Zhou, C. Hou, P. He and L. Zhao, "Remote sensing extraction of lakes on the Tibetan Plateau based on Google Earth Engine and deep learning," *Remote Sensing,* vol. 16, no. 3, p. 583, 2024.

[6] W. H. W. B. Wei Feng, "Imbalanced hyperspectral image classification with an adaptive ensemble method based on SMOTE and rotation forest with differentiated sampling rates," *IEEE Geoscience and Remote Sensing Letters,* 2019.

[7] Y. Shendryk, Y. Rista, C. Ticehurst and P. Thorburn, "Deep learning for multi-modal classification of cloud, shadow and land cover scenes in satellite imagery," *ISPRS Journal of Photogrammetry and Remote Sensing,* vol. 157, pp. 124-136, 2019.

[8] R. Sahu and D. P. Singh, "Conventional and deep learning approaches for glacial lake mapping using remote sensing data: A comprehensive review," *International Journal of Remote Sensing,* 2025.

[9] Q. Tang, G. Zhang, T. Yao, M. Wieland, L. Liu and S. Kaushik, "Automatic extraction of glacial lakes using deep learning," *Remote Sensing of Environment,* vol. 315, p. 1141413, 2024.

[10] P. Baral and M. A. Haq, "Spatial prediction of permafrost occurrence in Sikkim Himalayas using machine learning," *Geomorphology,* 2020.

[11] I. Kotaridis and M. Lazaridou, "Remote sensing image segmentation advances: A meta-analysis," *ISPRS Journal of Photogrammetry and Remote Sensing,* vol. 173, pp. 309-322, 2021.

[12] L. W. S. L. B. P. H. Y. Jianfeng Li, "An Automatic Cloud Detection Model for Sentinel-2 Imagery Based on Google Earth Engine.," *Remote Sensing Letters,* vol. 13(2), pp. 196-206, 2022.

[13] J. Li, L. Wang, S. Liu, B. Peng and H. Ye, "An automatic cloud detection model for Sentinel-2 imagery based on Google Earth Engine," *Remote Sensing Letters,* vol. 13, no. 2, pp. 196-206, 2022.

[14] A. Zupanc and e. al., "Sentinel-2 cloud detection using S2Cloudless algorithm," *Remote Sensing,* 2017.

[15] H. Xu, "Modification of Normalised Difference Water Index (NDWI) to enhance open water features in remotely sensed imagery," *International Journal of Remote Sensing,* vol. 27, no. 14, pp. 3025-3033, 2006.

[16] O. Ronneberger, P. Fischer and T. Brox, "U-Net: Convolutional Networks for Biomedical Image Segmentation," in *MICCAI (Medical Image Computing and Computer-Assisted Intervention)*, 2015.

[17] S. S. Randhawa and A. Sharma, "Inventory of moraine dammed glacial lakes in Himachal Pradesh using IRS LISS III satellite data," Government of Himachal Pradesh, Shimla, 2014.

[18] N. Otsu, "A threshold selection method from gray-level histograms," *IEEE Transactions on Systems, Man, and Cybernetics,* vol. 9, no. 1, pp. 62-66, 1979.

[19] S. K. McFeeters, "The use of the Normalized Difference Water Index (NDWI) in the delineation of open water features," *International Journal of Remote Sensing,* vol. 17, no. 7, pp. 1425-1432, 1996.

[20] C. Huggel, A. Kääb, W. Haeberli, P. Teysseire and F. Paul, "Remote sensing based assessment of hazards from glacier lake outbursts," *Canadian Geotechnical Journal,* vol. 39, no. 2, p. 316–330, 2002.

[21] W. J. Emery, "Visible and infrared remote sensing," in *Remote Sensing of the Environment*, John Wiley & Sons, 1999.

[22] M. Dumont and S. Gascoin, "Optical remote sensing of snow cover," in *Land Surface Remote Sensing in Continental Hydrology*, Elsevier.

[23] M. Drusch and e. al., "Sentinel-2: ESA's optical high-resolution mission for GMES operational services," *Remote Sensing of Environment,* vol. 120, pp. 25-36, 2012.

[24] N. V. Chawla, K. W. Bowyer, L. O. Hall and W. P. Kegelmeyer, "SMOTE: Synthetic Minority Over-sampling Technique," *Journal of Artificial Intelligence Research,* vol. 16, pp. 321-357, 2002.

[25] L. Breiman, "Random Forests," *Machine Learning,* vol. 45, no. 1, pp. 5-32, 2001.

[26] N. V. C. e. al., *Journal of Artificial Intelligence Research,* 2002.

[27] NASA, "NASADEM Digital Elevation Model," 2020. [Online]. Available: https://earthdata.nasa.gov/.

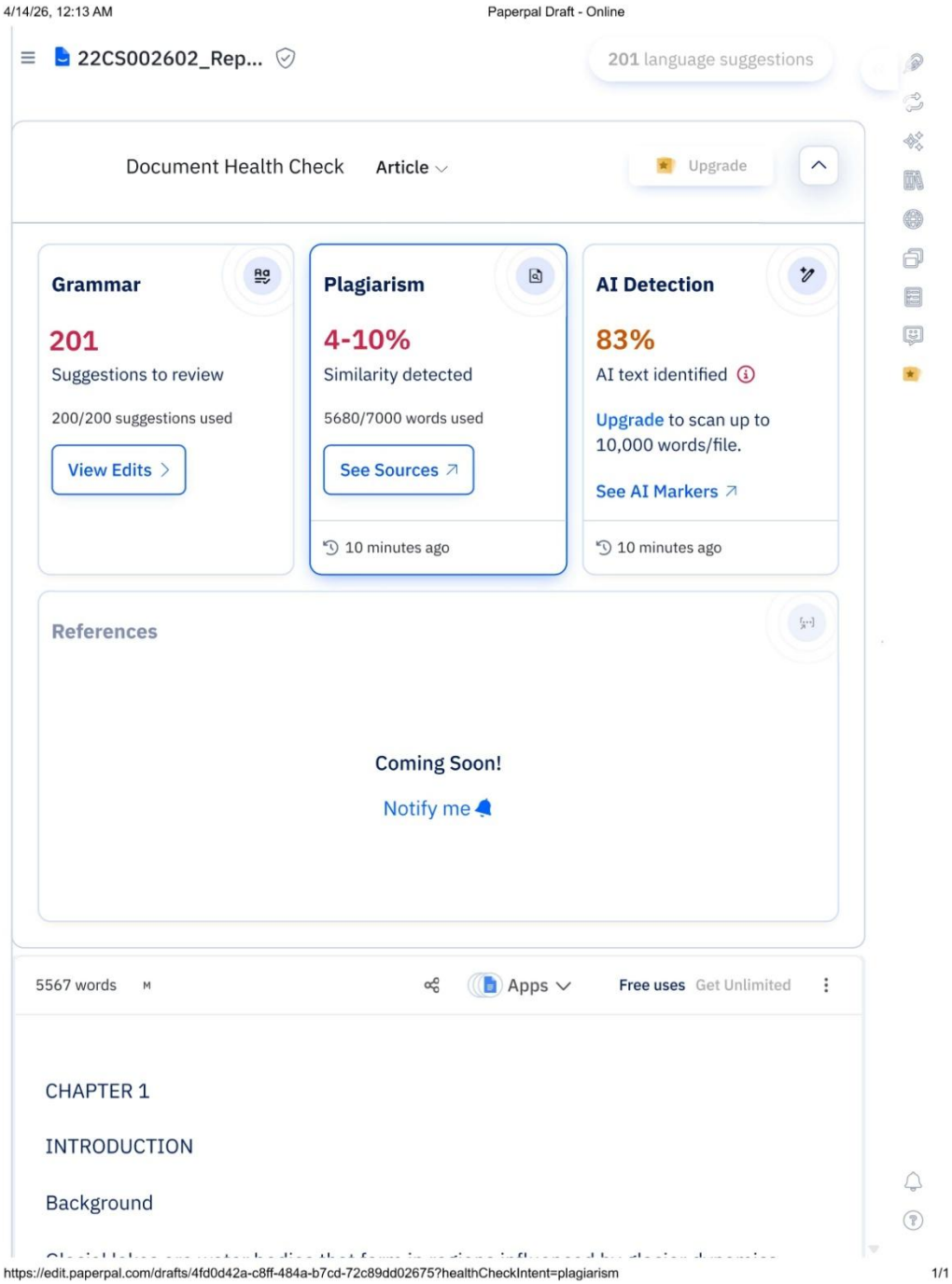

Plagiarism Report